使用流程與設定說明文件

A.建立邊界

1. 按右手控制器的 按鈕叫出介面選單，選取邊界按下 按鈕進入

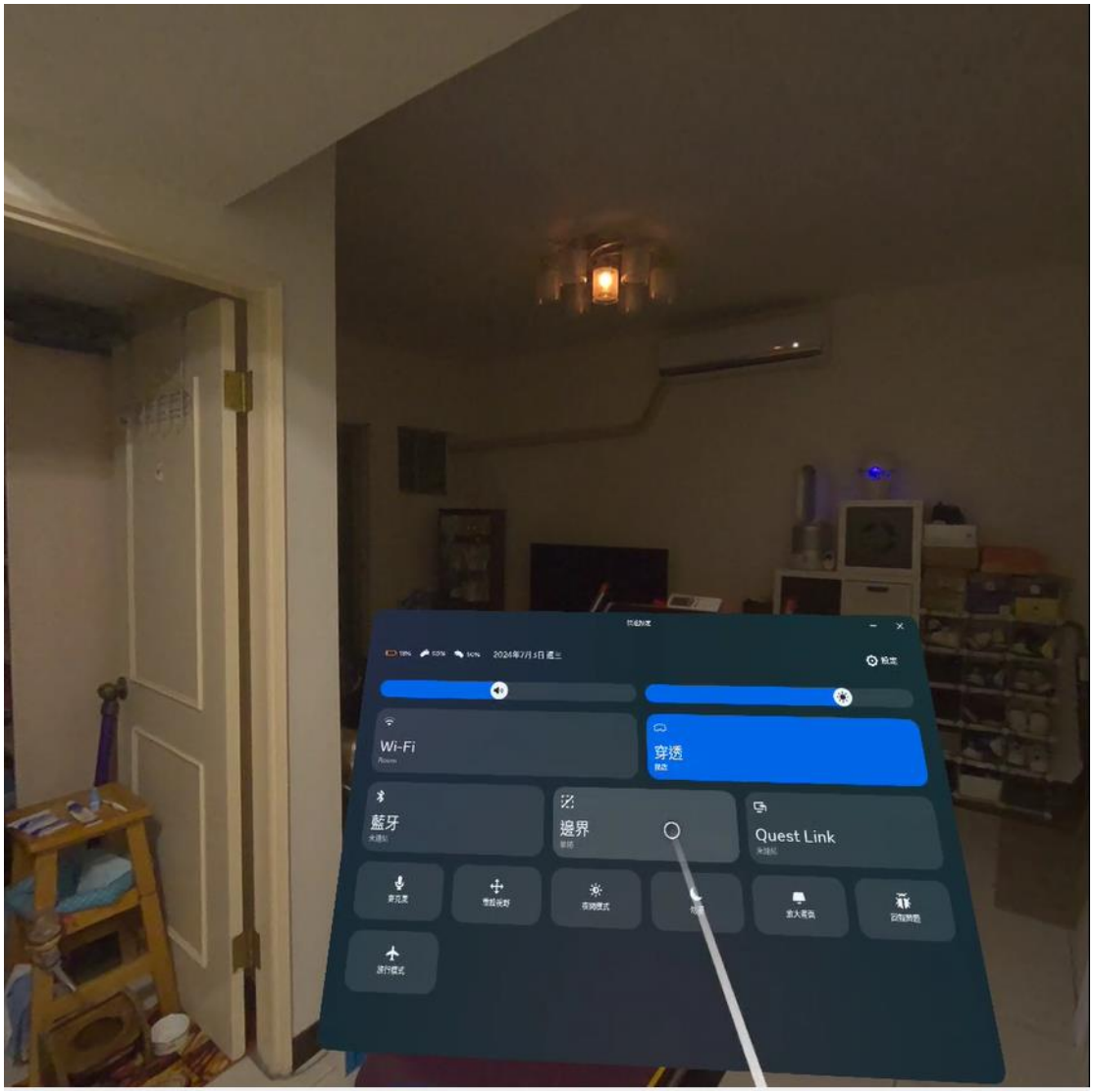

2.進入畫面後用Ⓐ按下自行選擇邊界



3. 用Ⓐ按下選取走動邊界



4. 確認高度後用Ⓐ按下選取確認

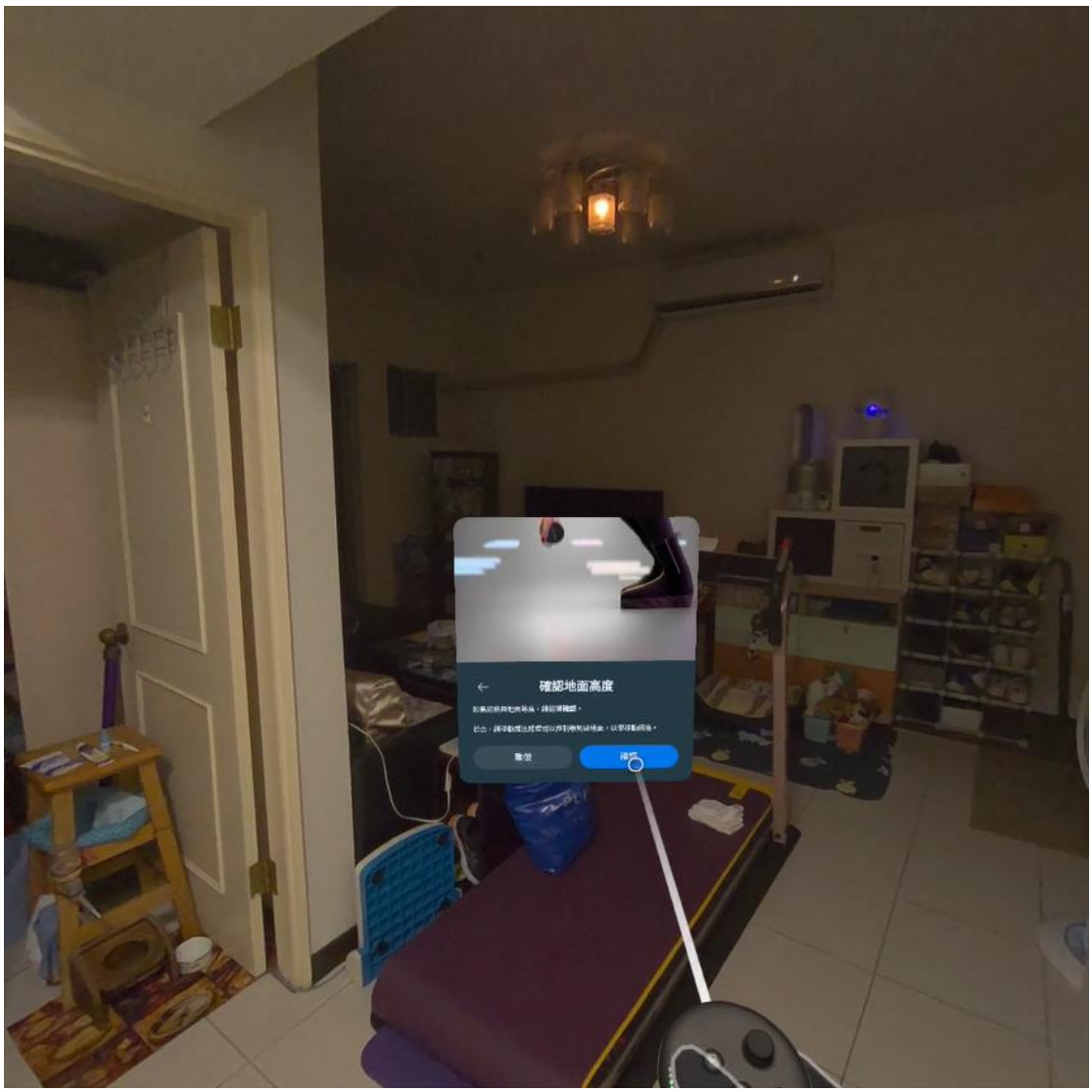

5.繪製邊界，當看到地上有多個白色十字時，長按Ⓐ並且移動手柄畫出一個自製的邊界



6.完成後按Ⓐ確認邊界



7. 完成後選取按下圖紅色方框圈起按Ⓐ進入應用程式

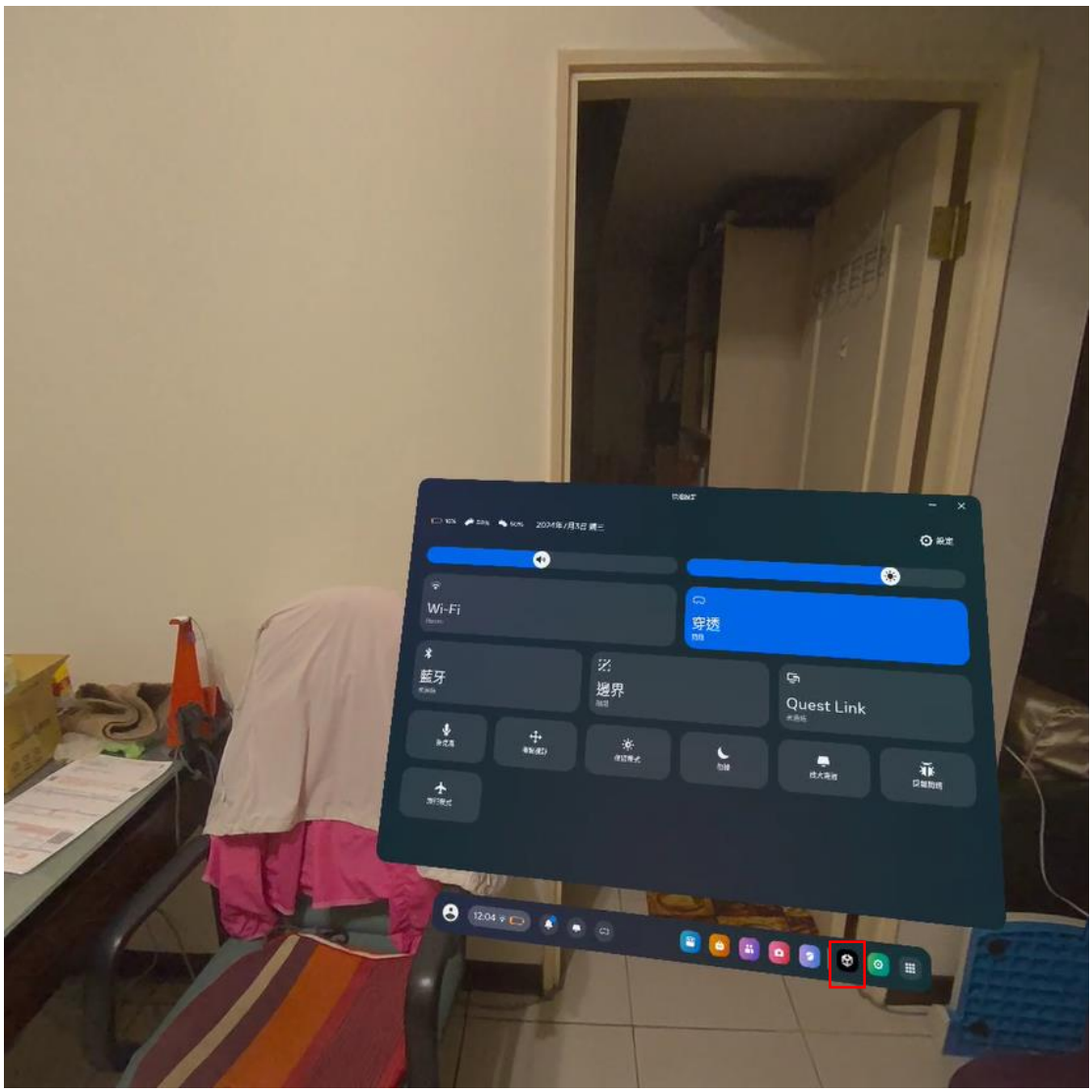

B. 使用設定

1. 在開始給用戶使用紅綠燈交通系統前，需要設定物件位置

當對準想設定的位置，長按右手控制器的 按鈕即可將物件跟隨裝置移動

2. 當設定好物件位置，將裝置交給用戶使用，並且詢問物件擺放位置，確保正確

3. 當所有設定完成後即可開始使用應用

C. 使用流程

Step1.

初始位置:

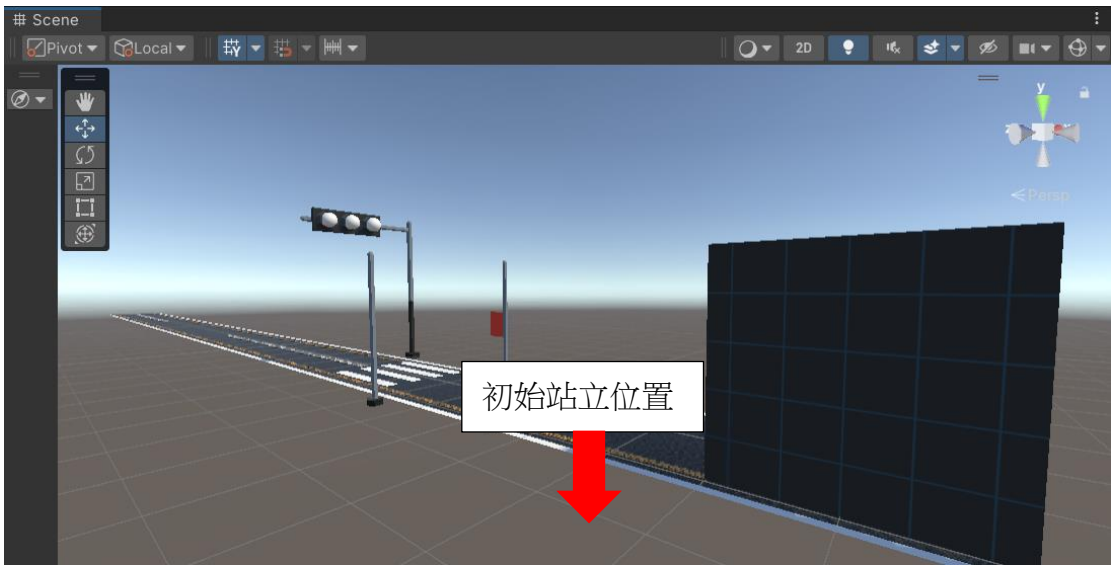

實際對應位置:
於此處等待監測人員說可以開始行走

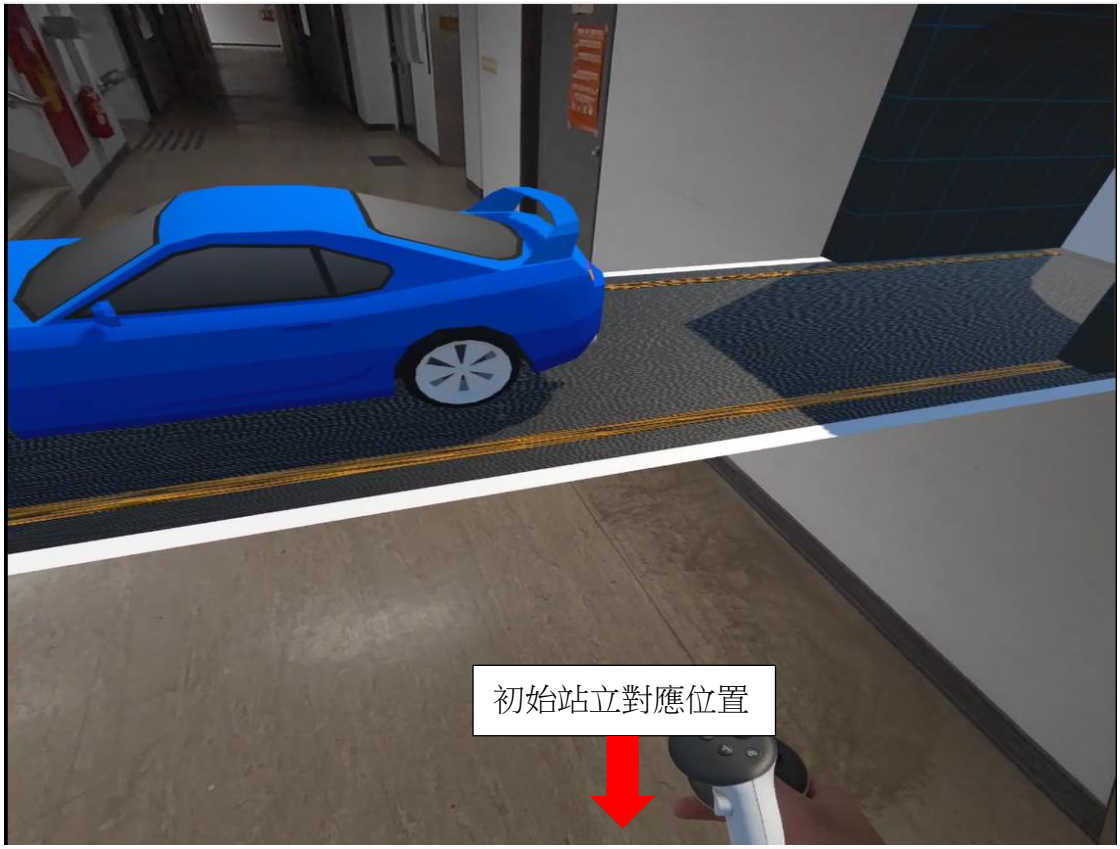

Step2.

行走路線:

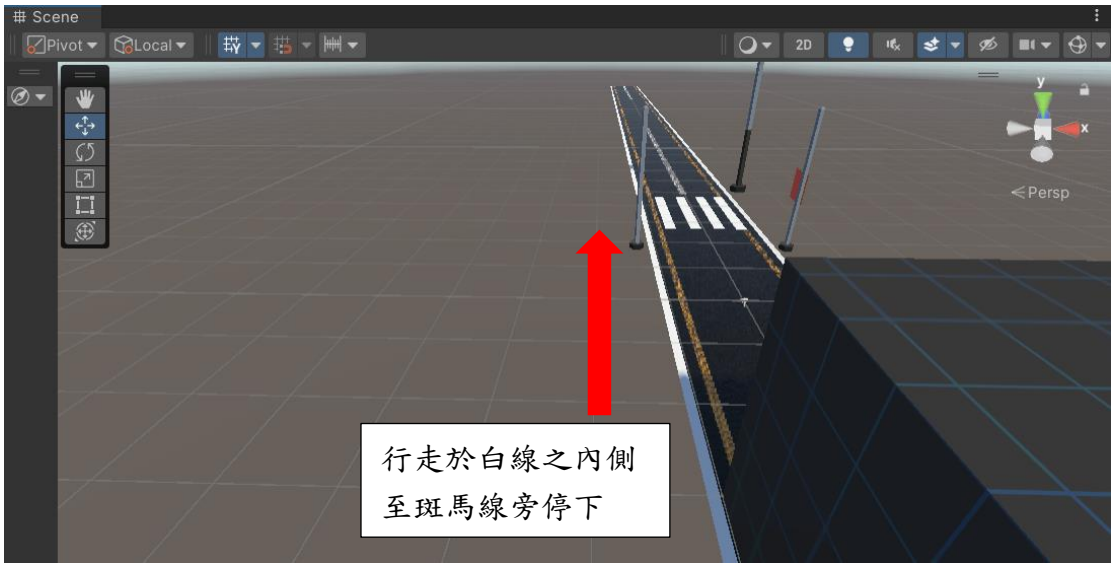

行走路線實際對應圖:

Step3.

於斑馬線旁等待紅燈

於斑馬線旁安全位置等待紅燈，並且告知監測人員號誌燈號，以及小綠人之狀態；等待指示後即可行走於斑馬線上。

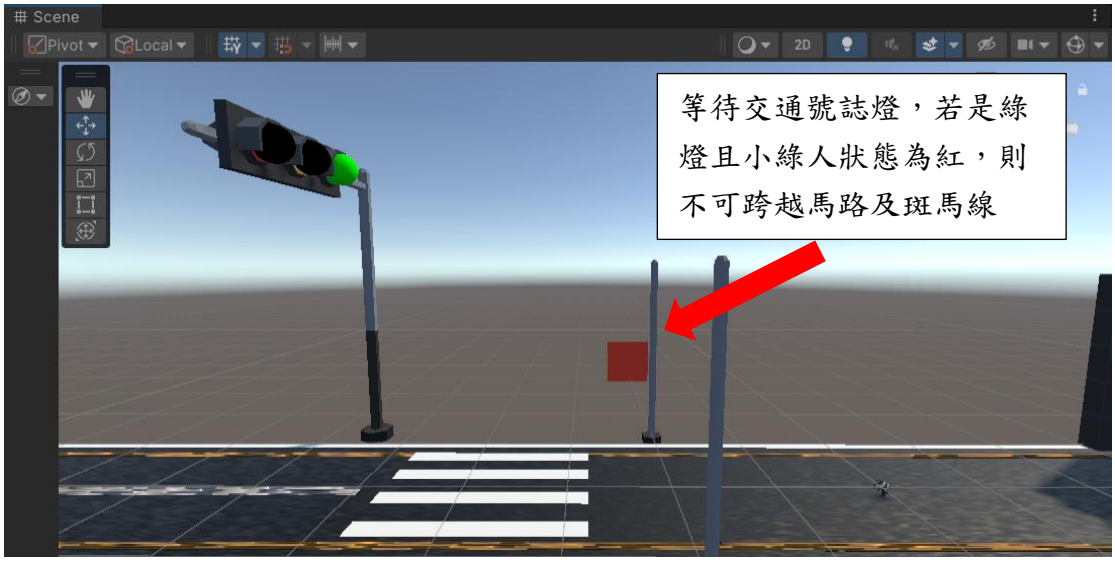



斑馬線等待實際對應圖



Step3.

當錯誤的號誌燈狀態行走

監測人員會提問號誌燈狀態與是否出現警示標語，而用戶此時若在錯誤的號誌燈下行走於馬路上時，畫面會出現警示標語，用戶若有提出出現警示標語時，監測人員提醒用戶回到斑馬線旁等待正確號誌再行走。

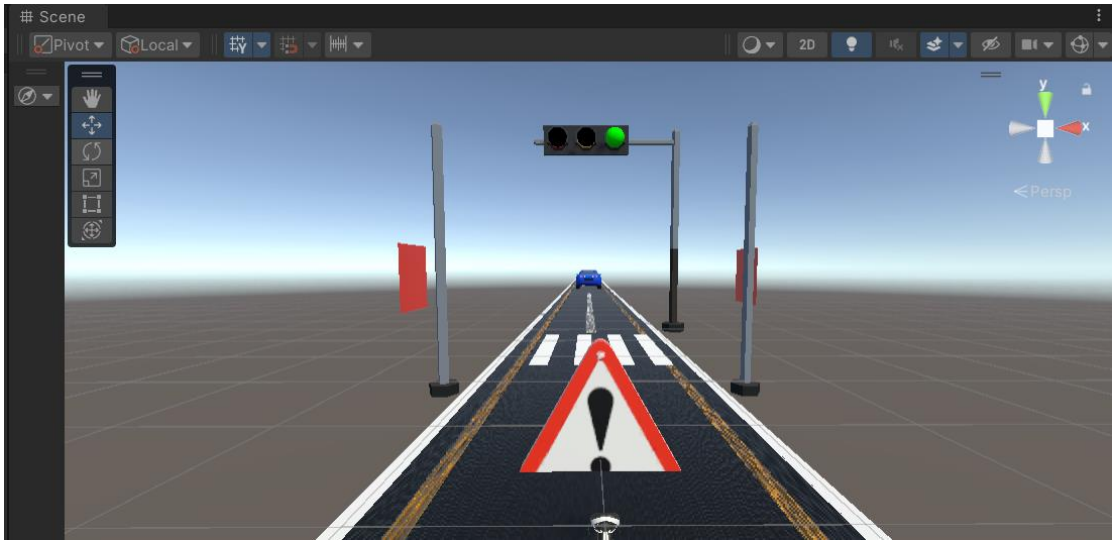

錯誤號誌行走實際對應圖

Step4.

走過斑馬線至對面安全區域

走至斑馬線對面安全區域後告知監測人員並且等待下一次號誌燈至可行走狀態，並觀察小綠人是否為綠色可行走狀態。

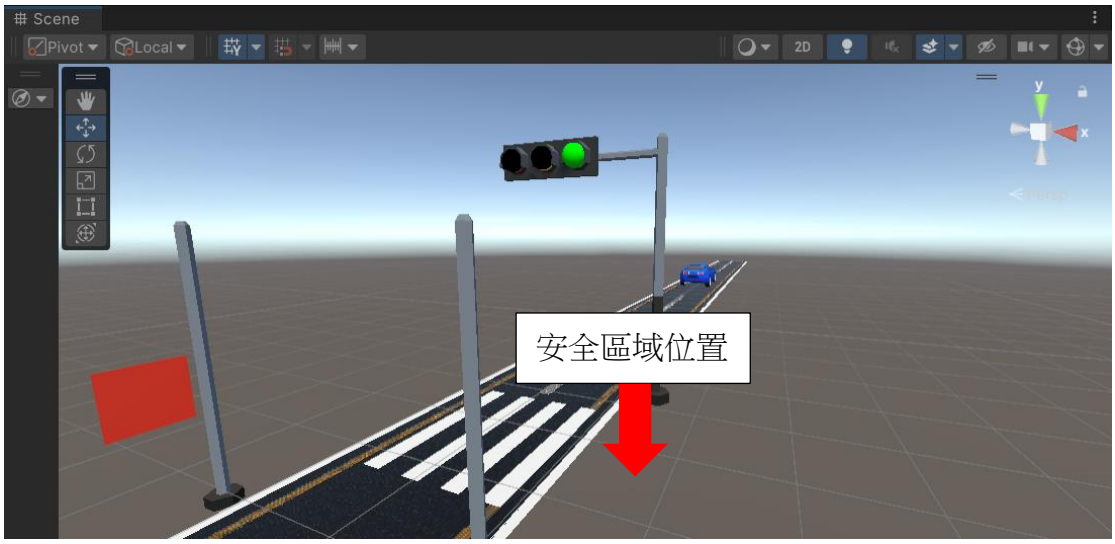

安全區域等待對應圖



Step5.

按照原路返回初始位置
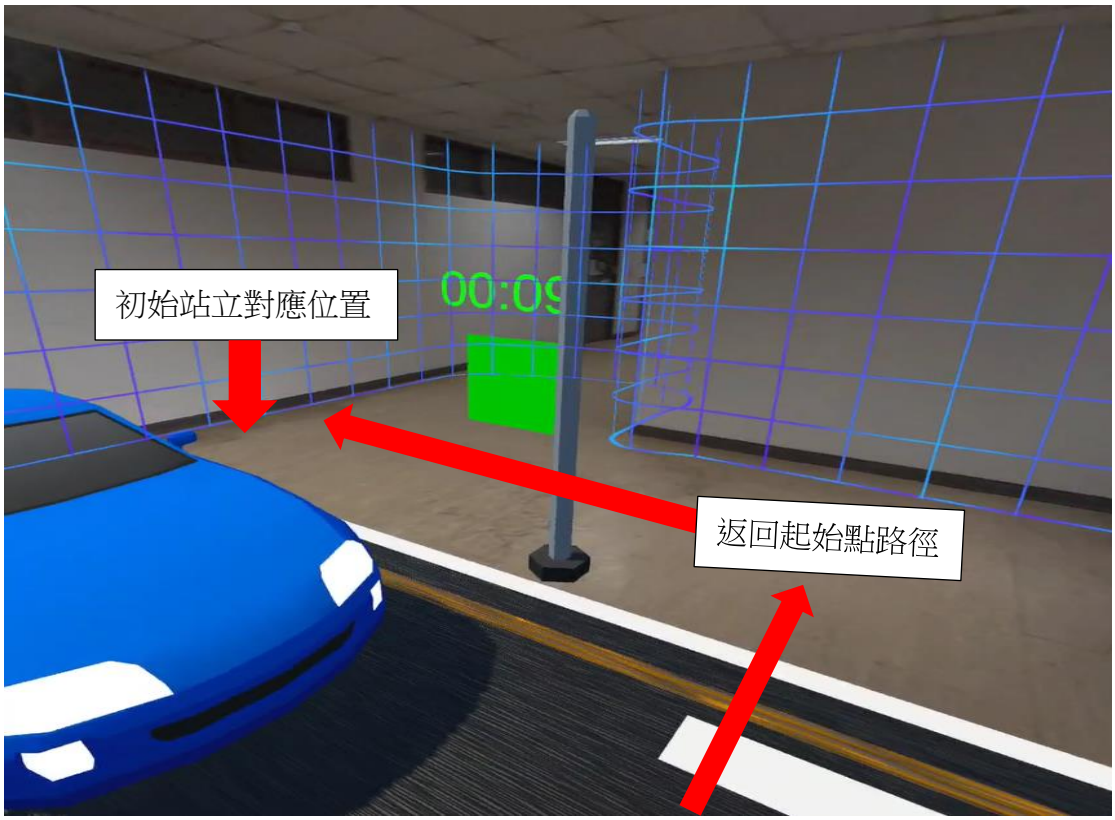
返回初始位置對應圖